NATIONAL CYBERCRIME THREAT ANALYTICS UNIT (NCTAU)

INDIAN CYBER CRIME COORDINATION CENTRE (I4C) - ANALYST DRAFT

Cybercrime Domain Analysis Report

Subject domain: openstreetmap.org

Input URL: https://www.openstreetmap.org

LOW | BENIGN | LOCAL-SMOKE-20260411T202053Z

REPORT ID
NCTAU-DAR-OPENSTREETMAP.ORG-20260412-044734

ANALYSIS TIMESTAMP (UTC)
2026-04-12T04:47:34Z

PRIORITY SCORE
5

PRIMARY ALLOCATION HOLDER
Unavailable

SEVERITY	THREAT CATEGORY	CONFIDENCE	BRAND IMPERSONATED	RESOLVED IPS
LOW	BENIGN	MEDIUM	None identified	0

HOLDER-LINKED ASNS
0

A - Executive Summary

The collected evidence does not presently indicate a clear malicious workflow. The domain should be retained only for reference unless new indicators emerge.

Fraud mechanism

No active fraud mechanism was evident in the captured content.

Victim profile

No specific victim group identified.

Attribution summary

No APNIC allocation holder was identified for the resolved addresses captured during this run.

Recommended action: No immediate enforcement action recommended; retain for watchlist comparison.

B - Threat Intel Verdicts

VIRUSTOTAL
0/0
Malicious engines flagged

URLSCAN
N/A
Score: N/A

URLHAUS
Not listed
No malware tag returned

GOOGLE SAFE BROWSING
Clean
Blocklist presence

ALIENVAULT OTX
0
Threat pulses

PHISHTANK
Unverified
Community phishing consensus

ABUSEIPDB
N/A
ISP unavailable

C - Registration and DNS

Registrar	Unknown
Registration date	Unknown
Expiry date	Unknown
Nameservers	Unknown
Registrant country	Unknown
Domain age	Unknown

DNS Records

A	151.101.193.55, 151.101.129.55, 151.101.65.55, 151.101.1.55
MX	10 a.mx.openstreetmap.org
NS	daisy.ns.cloudflare.com, rajeev.ns.cloudflare.com
TXT	_globalsign-domain-verification=W0buKB5ZmL-VwwHw2oQyQlmk3I1q3hSemf2qmB1hjP, _globalsign-domain-verification=ps00GlW1BzY9c2_cwH_pFqRkvzZyaCVZ-3RLssRG6S, facebook-domain-verification=j5hix5i8r0kortfugqf2p9wx9x9by0, v=spf1 ip4:184.104.226.98 ip6:2001:470:1:b3b::2 ip4:87.252.214.98 ip6:2001:4d78:fe03:1c::2 ip4:193.60.236.0/24 ip4:82.199.86.96/27 ip6:2001:4d78:500:5e3::/64 ip4:87.252.214.96/27 ip6:2001:4d78:fe03:1c::/64 ip4:184.104.179.128/27 ip6:2001:470:1:fa1::/64 ip4:184.104.226.96/27 ip6:2001:470:1:b3b::/64 mx -all

D - Evidence Capture

CLOAKING SUSPECTED - Desktop and mobile captures differ materially.

Desktop 200

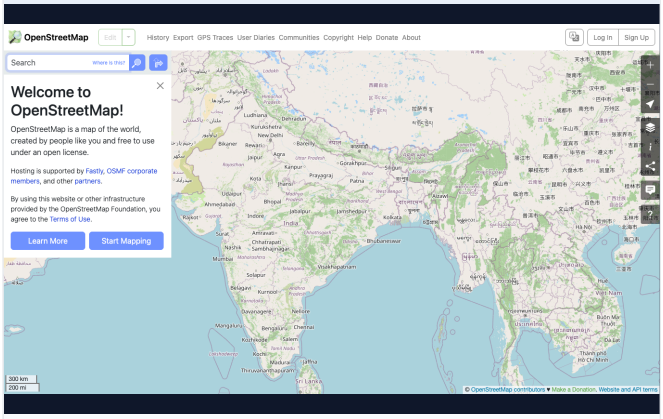

Viewport screenshot
Timestamp: 20260411T202324Z
SHA-256:
44050210fcf9f25f3f596db2bf4ee755369ca8c6f0fdfea4f7a0832cdl

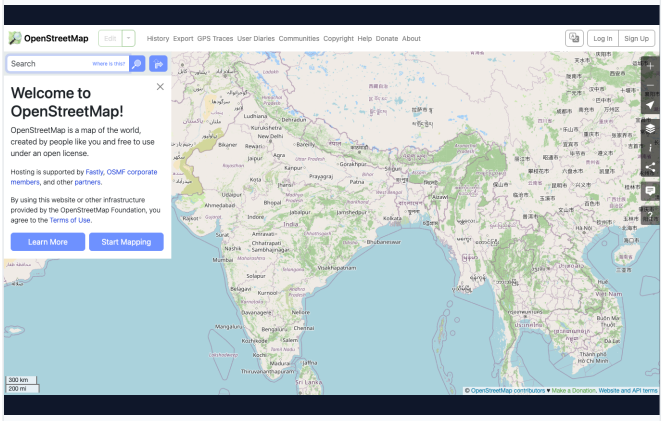

Full-page screenshot
Timestamp: 20260411T202324Z
SHA-256:
44050210fcf9f25f3f596db2bf4ee755369ca8c6f0fdfea4f7a0832cdl

Mobile Android 200

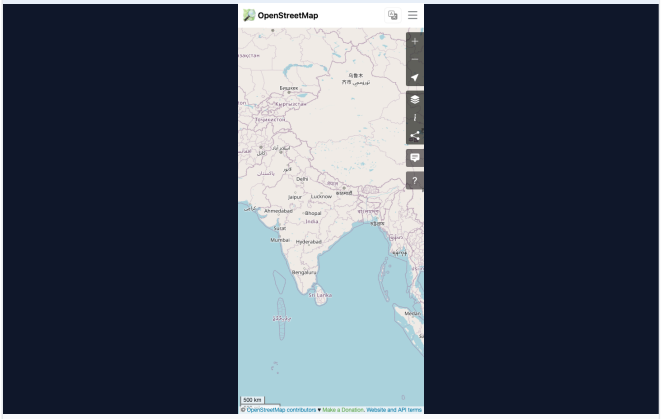

Viewport screenshot
Timestamp: 20260411T202330Z
SHA-256:
72dcc9e8259cb1c13c2e399bdebd7d63e4f73bec1a0d20d396a6134

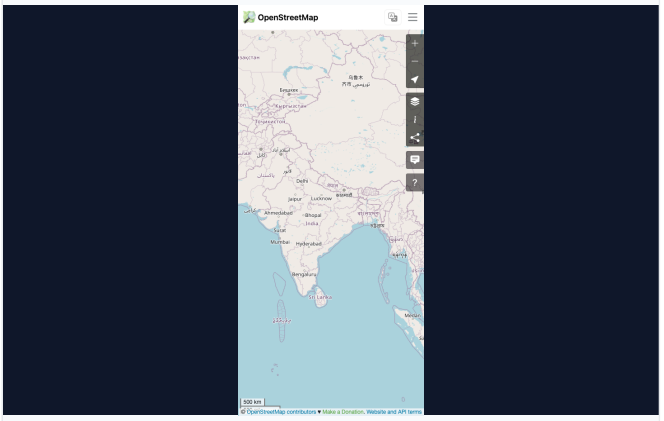

Full-page screenshot
Timestamp: 20260411T202330Z
SHA-256:
72dcc9e8259cb1c13c2e399bdebd7d63e4f73bec1a0d20d396a6134

E - Legal Analysis

Statute	Offence	Evidence	Confidence
No specific legal provisions were assigned by the analytical model for this capture.			

The collected evidence does not presently indicate a clear malicious workflow. The domain should be retained only for reference unless new indicators emerge.

F - Network Attribution

Resolved IP Set

- No IPv4 or IPv6 addresses were resolved during this run.

Holder-linked ASN Allocations

- No holder-linked ASN allocations were identified from the APNIC dataset.

Primary Allocation Holder

Unavailable

No APNIC geography was matched.

Matched APNIC Allocations

IP	Resource	Holder	NIR / Country	Economy	Delegation
No APNIC allocation block matched the resolved IP set.					

G - Technical Observations and Link Analysis

HTTP status	200
Final URL	https://www.openstreetmap.org/#map=5/21.84/82.79
Page title	OpenStreetMap
Redirect chain	https://www.openstreetmap.org/
Wayback snapshot	Archived copy

Network Requests

- **First-party:** 44
- **Third-party:** 1
- **API calls:** 1

Certificate Transparency (first 10)

- No certificate transparency records returned.

Linked Domains (shared infrastructure)

- No linked domains were identified in the current dataset.

Response Headers

- **accept-ranges:** bytes
- **alt-svc:** h3=":443";ma=86400,h3-29=":443";ma=86400,h3-27=":443";ma=86400
- **cache-control:** max-age=0, private, must-revalidate
- **content-encoding:** br
- **content-language:** en
- **content-length:** 6173
- **content-security-policy:** default-src 'self'; child-src 'self'; font-src 'self'; frame-ancestors 'self'; frame-src 'self'; manifest-src 'self'; media-src 'none'; object-src 'self'; worker-src blob:; connect-src 'self' tile.openstreetmap.org api.thunderforest.com tile.tracestrack.com *.openstreetmap.fr vector.openstreetmap.org api.maptiler.com matomo.openstreetmap.org http://127.0.0.1:8111 https://vector.openstreetmap.org https://api.maptiler.com https://tile.thunderforest.com https://render.openstreetmap.org https://nominatim.openstreetmap.org/ https://query.openstreetmap.org/query-features https://routing.openstreetmap.de/ https://graphhopper.com/api/1/route https://valhalla1.openstreetmap.de/route https://www.wikidata.org/w/api.php; form-action 'self' render.openstreetmap.org tile.thunderforest.com; img-src 'self' data: www.gravatar.com *.wp.com tile.openstreetmap.org gps.tile.openstreetmap.org api.thunderforest.com tile.tracestrack.com *.openstreetmap.fr matomo.openstreetmap.org https://openstreetmap-user-avatars.s3.dualstack.eu-west-1.amazonaws.com https://openstreetmap-gps-images.s3.dualstack.eu-west-1.amazonaws.com https://commons.wikimedia.org/wiki/ upload.wikimedia.org; script-src 'self' matomo.openstreetmap.org 'wasm-unsafe-eval' 'nonce-mGK2Iyl6/VUxIyTWIaKZOThv63DZgDfs'; style-src 'self' 'unsafe-inline' 'nonce-mGK2Iyl6/VUxIyTWIaKZOThv63DZgDfs'
- **content-type:** text/html; charset=utf-8
- **cross-origin-opener-policy:** same-origin
- **date:** Sat, 11 Apr 2026 20:23:19 GMT
- **etag:** W/"fd343c9f5a74a53679a1d182adf0c8ae-br"
- **link:** ; rel=preload; as=script; nopush,; rel=modulepreload; as=script; nopush,; rel=preload; as=script; nopush,; rel=preload; as=script; nopush,; rel=preload; as=style; nopush,; rel=preload; as=style; nopush,; rel=preload; as=style; nopush,; rel=preload; as=style; nopush
- **referrer-policy:** strict-origin-when-cross-origin
- **server:** Apache
- **set-cookie:** _osm_session=347be30d803d81ffa7b4b0556e45434e; path=/; secure; httponly; samesite=lax _osm_totp_token=850545; domain=openstreetmap.org; path=/; expires=Sat, 11 Apr 2026 21:23:19 GMT; samesite=lax; secure
- **status:** 200 OK
- **strict-transport-security:** max-age=31536000; includeSubDomains; preload

- **vary:** Accept-Language,Accept-Encoding
- **via:** 1.1 varnish
- **x-cache:** MISS, MISS
- **x-cache-hits:** 0, 0
- **x-content-type-options:** nosniff
- **x-frame-options:** SAMEORIGIN
- **x-page-title:** OpenStreetMap
- **x-permitted-cross-domain-policies:** none
- **x-powered-by:** Phusion Passenger(R) 6.1.2
- **x-request-id:** adqtt9lrwDebJpwSjAgRhAAAATA
- **x-runtime:** 0.018139
- **x-served-by:** cache-qbd-vind4800023-QBD, cache-qbd-vind4800026-QBD
- **x-timer:** S1775938999.736298,VS0,VE463
- **x-xss-protection:** 0

H - Evidence Manifest and Recommendations

Recommended action: No immediate enforcement action recommended; retain for watchlist comparison.

Severity: LOW

Priority score: 5

Manifest hash: f00d12c96388957ca0e74fd97648be3029a4fa95a6e9df628c8

Analyst-generated draft for internal cybercrime review by the National Cybercrime Threat Analytics Unit (NCTAU), Indian Cyber Crime Coordination Centre (I4C); not an official government issuance or blocking order.

File	Type	Profile	Timestamp	SHA-256
openstreetmap.org_desktop_20260411T202324Z_viewport.png	viewport	desktop	20260411T202324Z	44050210fcf9f25f3f596db2bf4ee755369ca8c6f0fdfea4f7a0832cdb58ef24
openstreetmap.org_desktop_20260411T202324Z_fullpage.png	full_page	desktop	20260411T202324Z	44050210fcf9f25f3f596db2bf4ee755369ca8c6f0fdfea4f7a0832cdb58ef24
openstreetmap.org_mobile_android_20260411T202330Z_viewport.png	viewport	mobile_android	20260411T202330Z	72dcc9e8259cb1c13c2e399bdebd7d63e4f73bec1a0d20d396a613437f79db75
openstreetmap.org_mobile_android_20260411T202330Z_fullpage.png	full_page	mobile_android	20260411T202330Z	72dcc9e8259cb1c13c2e399bdebd7d63e4f73bec1a0d20d396a613437f79db75
openstreetmap.org.json	raw_json	system	2026-04-12T04:47:34Z	57d0c122246a5f827ecc1516a209c56d308cd5636fa23a3a7144f33f3d49f1c7